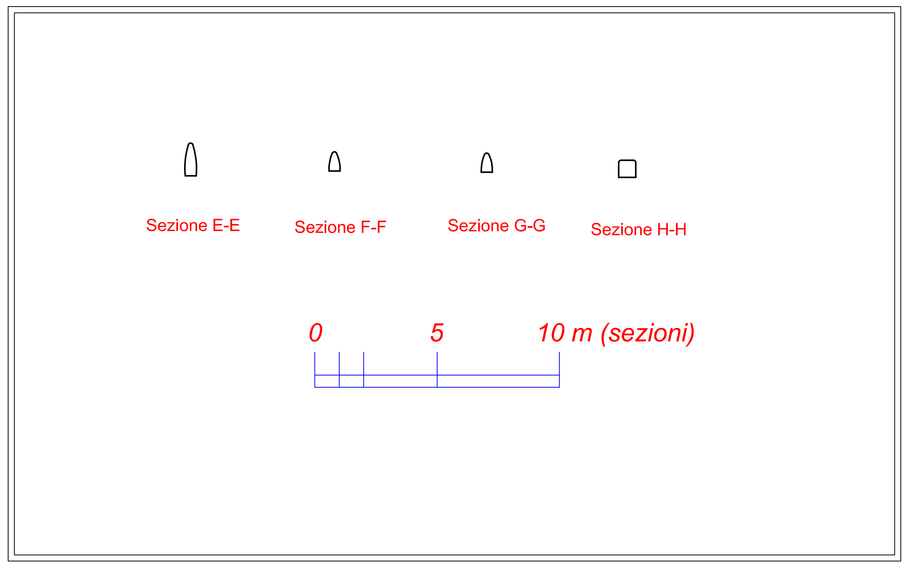

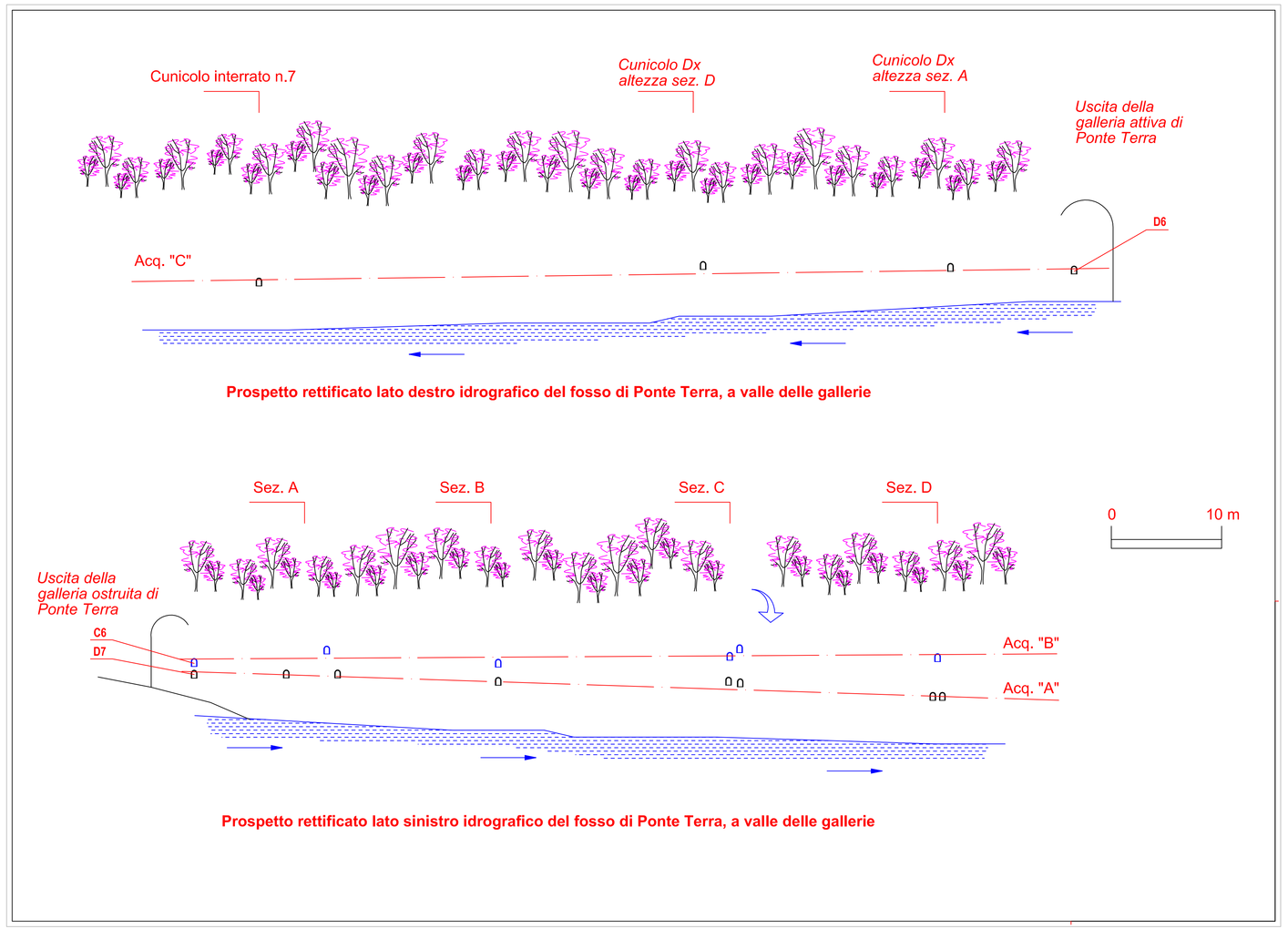

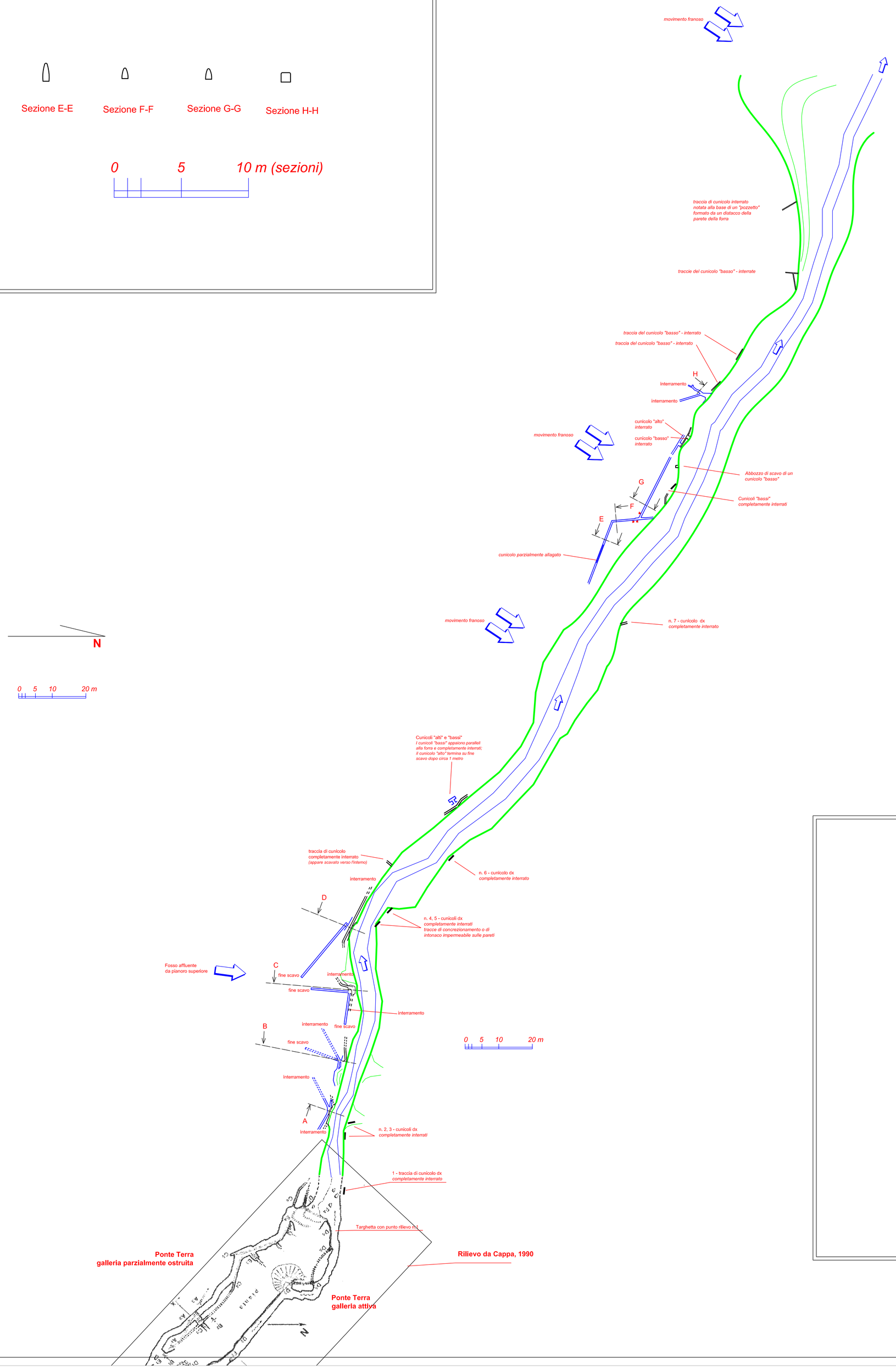

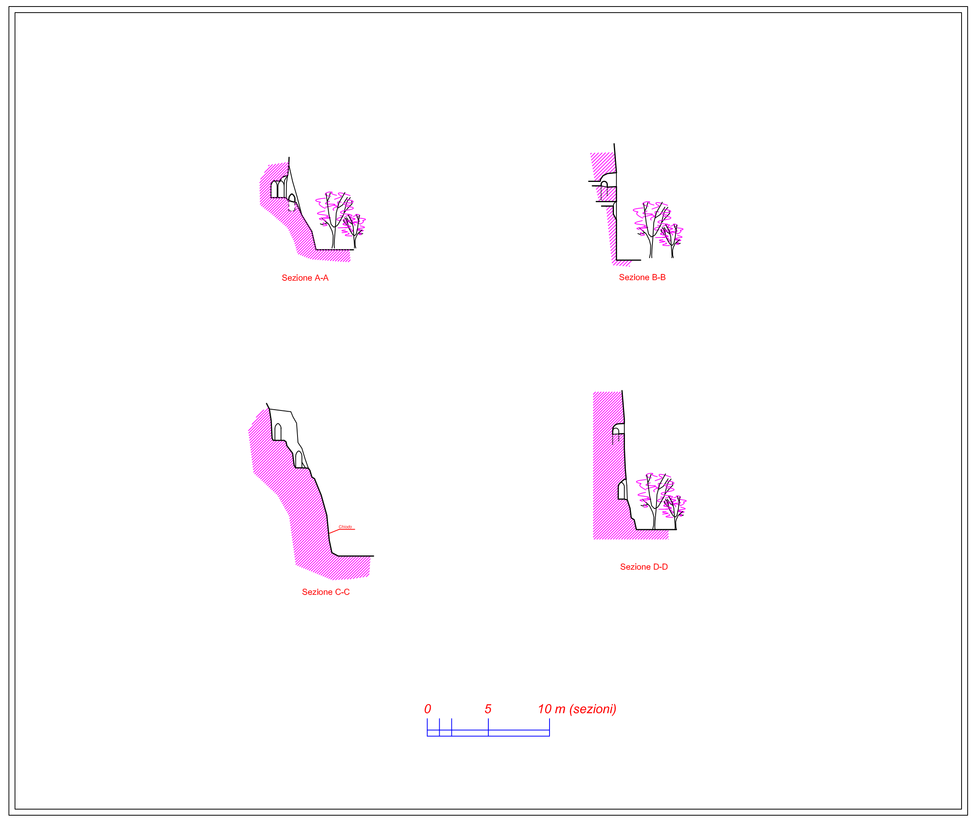

SOCIETA' SPELEOLOGICA ITALIANA

CENTRO RICERCHE SOTTERRANEE EGERIA

CA 1 La RM

Cunicoli di Ponte Terra

(tratto a valle delle grandi gallerie)

LOCALIZZAZIONE
Comune : San Vittorino (Roma)
Località/indirizzo : Ponte Terra

CARTOGRAFIA
IGM 150 I NO
Long. 0° 20' 28,8" Est di M. Mario
Lat. 41° 55' 11,5" Nord
Quota 84 m s.l.m.

Esplorazioni
1999 - 2003, 2007: CRS Egeria

Rilievi
(1999 - 2003; 2007) V. Castellani, C. Germani, T. Dobosz, C. & S. Galeazzi, V. Caloi, B. Bottacchiari

Grafica e C.A.D.:
Carlo Germani, A. De Paolis